Project Development Phase
Model Performance Test

Date	24 Jan 2026
Team ID	LTVIP2026TMIDS80698
Project Name	Heritage Treasures: An In-Depth Analysis of UNESCO World Heritage Sites in Tableau
Maximum Marks	

Model Performance Testing:

Project team shall fill the following information in model performance testing template.

S.No.	Parameter	Screenshot / Values
1	Data Rendered	UNESCO World Heritage Sites (2019) – Total Records: *1,121 sites*
2	Data Preprocessing	Cleaned columns: region_en, category, area_hectares, danger, date_inscribed etc.
3	Utilization of Filters	Filters applied: Region, Category, Year, Danger Status
4	Calculation Fields Used	Danger Status, Forecast, Region-wise Count, Category Split
5	Dashboard Design	No. of Visualizations / Graphs – **8**(Bar chart, Treemap, Map, Line, Pie, etc.)
6	Story Design	No. of Visualizations / Graphs – **6**(Organized in logical story sequence)

Some visualisations

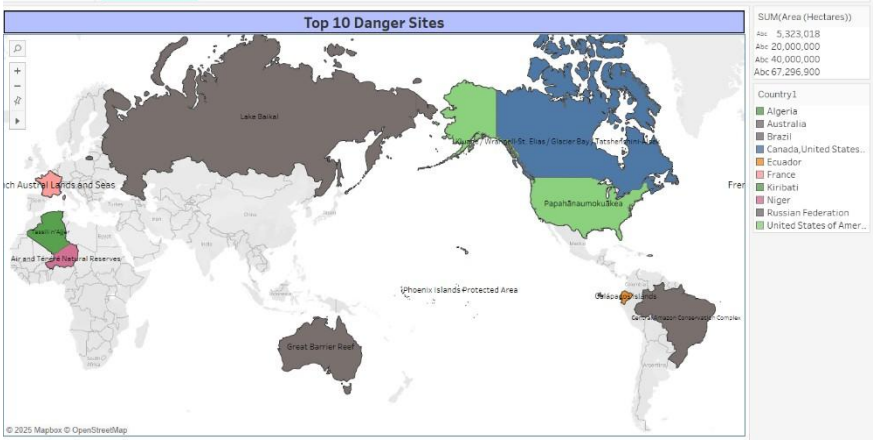
Top 10 Danger Sites
SUM(Area (Hectares))
5,323,018
20,000,000
40,000,000
67,296,900
Country1
Algeria
Australia
Brazil
Canada,United States..
Ecuador
France
Kiribati
Niger
Russian Federation
United States of Amer..
Lake Baikal
Papahānaumokuākea
Phoenix Islands Protected Area
Great Barrier Reef
© 2025 Mapbox © OpenStreetMap

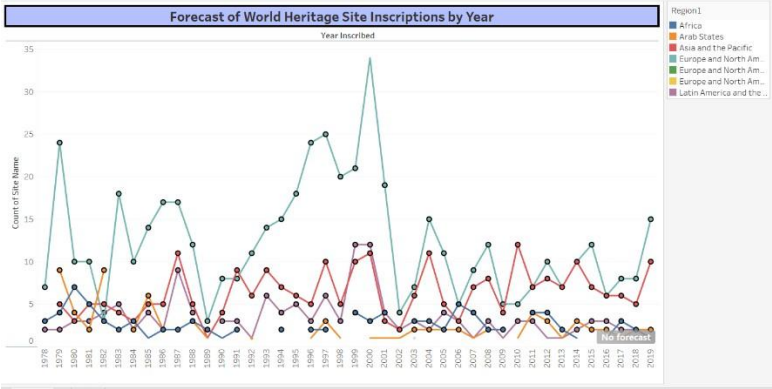
Forecast of World Heritage Site Inscriptions by Year
Year Inscribed
Count of Site Name
No forecast
Region1
Africa
Arab States
Asia and the Pacific
Europe and North Am..
Europe and North Am..
Europe and North Am..
Latin America and the ..

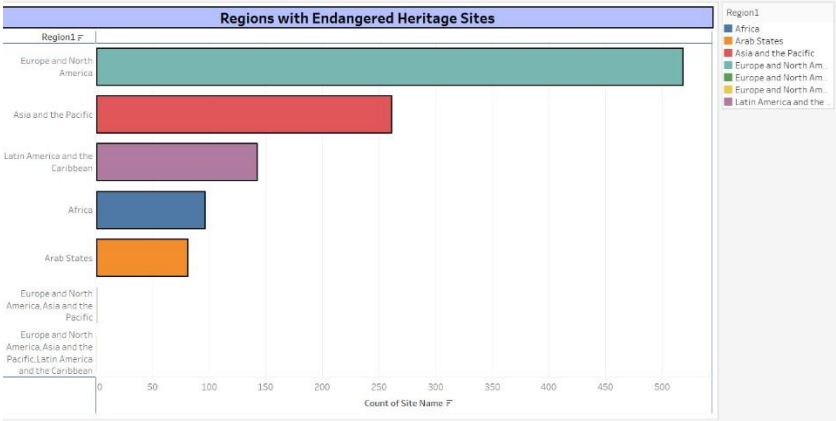
Regions with Endangered Heritage Sites
Region1
Europe and North America
Asia and the Pacific
Latin America and the Caribbean
Africa
Arab States
Europe and North America,Asia and the Pacific
Europe and North America,Asia and the Pacific,Latin America and the Caribbean
Count of Site Name
Region1
Africa
Arab States
Asia and the Pacific
Europe and North Am..
Europe and North Am..
Europe and North Am..
Latin America and the ..

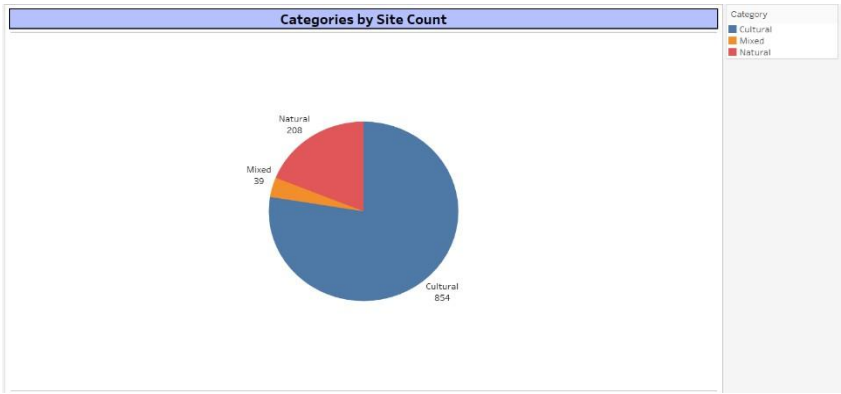
Categories by Site Count
Natural
208
Mixed
39
Cultural
854
Category
Cultural
Mixed
Natural